ODM Quality Report

Processed with ODM version 3.5.6

Dataset Summary

Date	05/04/2026 at 06:37:56
Area Covered	0.000363 km²
Processing Time	1.0m:41.0s
Capture Start	23/06/2016 at 16:33:49
Capture End	23/06/2016 at 16:34:03

Processing Summary

Reconstructed Images	3 over 3 shots (100.0%)
Reconstructed Points (Sparse)	3674 over 3767 points (97.5%)
Reconstructed Points (Dense)	375,728 points
Average Ground Sampling Distance (GSD)	1.7 cm
Detected Features	12,558 features
Reconstructed Features	2,297 features
Geographic Reference	GPS
GPS errors	0.17 meters

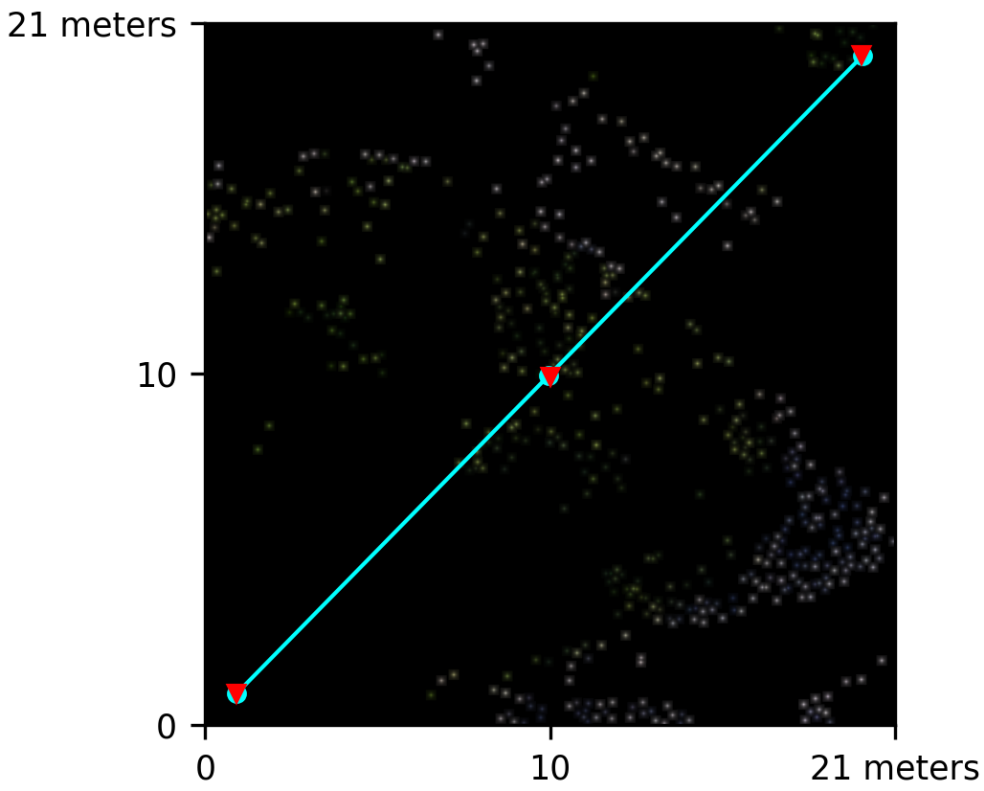

Previews

Orthophoto

Survey Data

GPS/GCP/3D Errors Details

GPS	Mean	Standard Deviation	RMS Error
X Error (meters)	0.000	0.027	0.027
Y Error (meters)	0.000	0.020	0.020
Z Error (meters)	0.000	0.189	0.189
Total			0.170

3D	Mean	Standard Deviation	RMS Error
X Error (meters)	0.005	0.004	0.006
Y Error (meters)	0.005	0.004	0.006
Z Error (meters)	0.004	0.008	0.009
Total			0.008

	Absolute	Relative
Horizontal Accuracy CE90 (meters)	0.045	0.015
Vertical Accuracy LE90 (meters)	0.232	0.009

Features Details

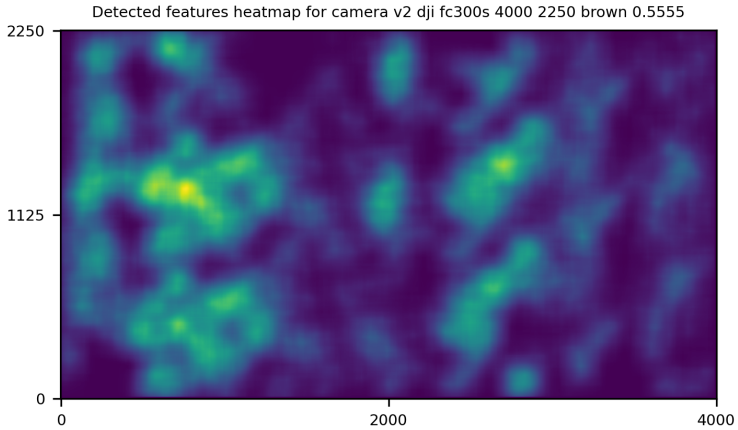

	Min.	Max.	Mean	Median
Detected	12531	12814	12634	12558
Reconstructed	1991	3615	2634	2297

Reconstruction Details

Average Reprojection Error (normalized / pixels / angular)	0.06 / 0.33 / 0.00012
Average Track Length	2.15 images
Average Track Length (> 2)	3.00 images

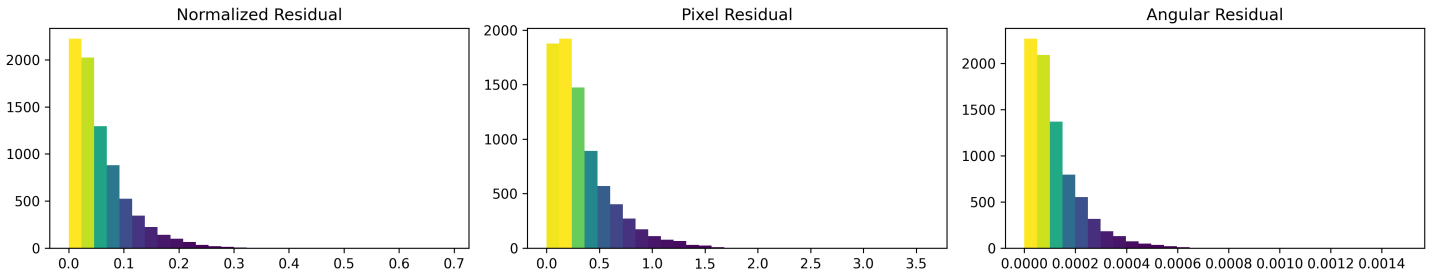

Tracks Details

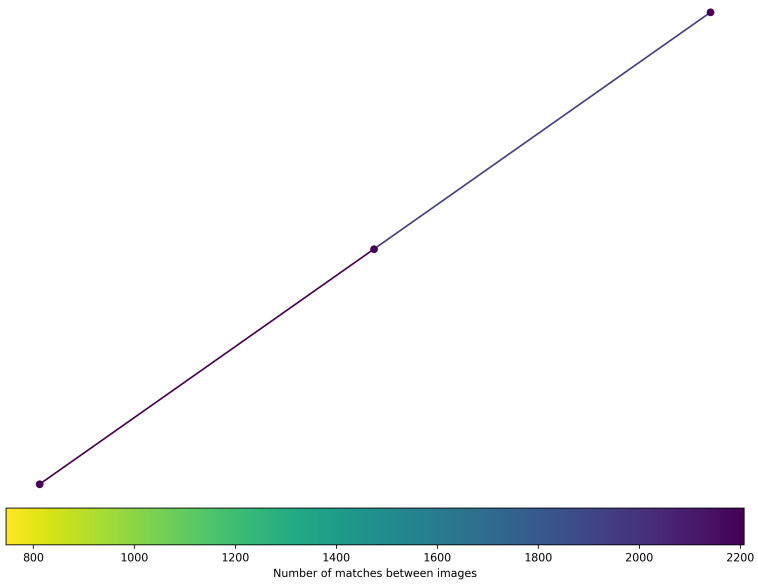

Length	2	3
Count	3119	555

Camera Models Details

v2 dji fc300s 4000 2250 brown 0.5555
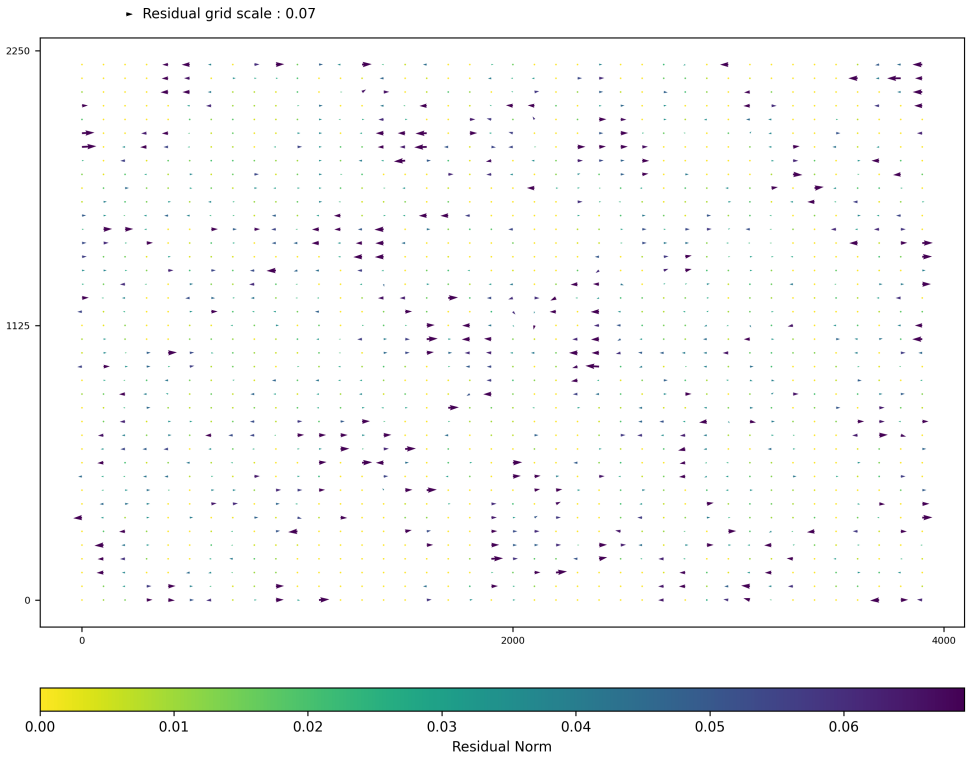
	k1	k2	k3	p1	p2	focal	aspect_ratio	cx	cy
Initial	0.0000	0.0000	0.0000	0.0000	0.0000	0.5556	1.0000	0.0000	0.0000
Optimized	-0.0063	0.0025	0.0056	0.0051	0.0083	0.5553	1.0000	0.0075	0.0124